Bhoumik_sixth_mass_extinction_quant_trends.pdf

by Bhoumik Patidar

Submission date: 22-Apr-2026 10:44AM (UTC+0530)
Submission ID: 2940060529
File name: Bhoumik_sixth_mass_extinction_quant_trends.pdf (1.69M)
Word count: 2725
Character count: 17219

Analyzing Contemporary Biodiversity Attrition: A Quantitative Review of the Red List Index (1993 to 2024)

Bhoumik Patidar / Group 3

April 21, 2026

Abstract

Contemporary ecological frameworks increasingly classify the current era by its unprecedented anthropogenic disruption of biological systems. A primary symptom of this disruption is a rapid acceleration in global biodiversity attrition. This manuscript interrogates the numerical evidence supporting the onset of a modern extinction crisis by analyzing thirty years of Red List Index data. Rather than relying on static global medians, this investigation isolates the specific velocity, spatial disparities, and localized concentrations of ecological vulnerability. Utilizing aggregated global data, we map the systemic spread of biological endangerment across more than 190 independent sovereign states and territories. The subsequent findings reveal a highly polarized reality. While general global averages suggest a gradual erosion, statistical distribution models demonstrate that a specific subset of geographically vulnerable nations is undergoing accelerated, catastrophic habitat failure. Extrapolation of these trends through polynomial forecasting models indicates that the global biosphere is on a trajectory to breach critical ecological boundaries much sooner than linear estimates suggest.

Contents

1 Introduction **3**

2 Literature Review **3**

2.1 Standard Baselines and Contemporary Deviations 3

2.2 Mechanics of the Evaluative Index 4

2.3 Identifying Analytical Deficits 4

3 Methodology **4**

3.1 Data Procurement and Formatting 4

3.2 Computational Processing 5

4 Results **5**

4.1 Systemic Spread of Ecological Endangerment 5

4.2 Polarization of Global Vulnerability 6

4.3 Geographical Disparities in Biological Loss 7

4.4 Extreme Performers and Policy Impact 8

4.5 Mathematical Extrapolation to 2050 9

5 Discussion **10**

5.1 The Intrinsic Fragility of Insular Ecosystems 10

5.2 Industrial Agriculture and Spatial Inequality 11

5.3 Empirical Evidence for Conservation Efficacy 11

5.4 Delayed Consequences of Habitat Liquidation 11

6 Conclusion **12**

1 Introduction

Geological records indicate that terrestrial ecosystems have historically endured five major biological collapse events. These historical bottlenecks were initiated by extraordinary planetary phenomena, such as significant volcanic anomalies or massive extraterrestrial impacts, which fundamentally altered the atmospheric and chemical composition of the Earth. Modern paleontologists and biological researchers increasingly argue that the planet is presently undergoing a sixth comparable event. However, this contemporary crisis diverges entirely from historical precedents. It is not catalyzed by tectonic shifts but rather by the exponential expansion and resource consumption of a single dominant species.

Scholars often label this phenomenon the Anthropocene Extinction. This term underscores how industrial pollution, rapid climate alteration, and unchecked habitat conversion have artificially inflated the rate at which biological groups disappear. Relying solely on a final count of extinct animals presents a severe analytical limitation because extinction is a protracted biological sequence rather than a sudden incident. Once a species is formally declared lost, the surrounding ecosystem has already suffered irreversible structural damage.

To accurately gauge the severity of the modern crisis, scientists must evaluate the collective survival probability of currently living populations. The Red List Index fulfills this exact requirement. Instead of cataloging historical losses, the metric calculates the rate at which surviving flora and fauna are approaching critical endangerment. This document dissects three decades of these index values to provide a multifaceted analysis of global biodiversity trajectories. By reorganizing this dataset into regional and distributional formats, the following sections aim to expose the underlying spatial inequalities of conservation, highlight the exact geographical epicenters of habitat collapse, and model the future statistical outlook for global wildlife.

2 Literature Review

2.1 Standard Baselines and Contemporary Deviations

Ecological scholarship fundamentally relies on identifying a standard benchmark of species loss, typically referred to as the background rate of extinction. This metric represents the expected frequency of species turnover in the absence of human interference. Paleontological consensus places this historical baseline at approximately one to two species per million each year. Modern investigations by leading conservation biologists note that the contemporary disappearance rate of vertebrates exceeds this historical norm by a factor of up to one hundred. Researchers argue that this massive statistical deviation is the

strongest empirical indicator that a systemic planetary collapse is active.

2.2 Mechanics of the Evaluative Index

The international conservation community utilizes the Red List of Threatened Species as the primary diagnostic tool for global biodiversity health. Because static inventories fail to capture momentum, statisticians formulated the Red List Index to measure aggregate shifts in survival probability over extended timeframes. This specific tool is highly regarded in academic circles because its methodology explicitly filters out superficial data fluctuations. If a species changes categories simply because biologists discovered a new population or revised a taxonomic name, the index ignores it. It only moves in response to genuine physical deterioration or verified population recovery.

Despite these rigorous parameters, multiple scholars view the metric as a highly conservative estimate. Current academic critiques highlight a distinct taxonomic bias within the underlying data, noting that birds, mammals, and amphibians are heavily monitored while fungi and invertebrates are severely underrepresented. Because invertebrates constitute the vast majority of global biomass, researchers suspect that a fully comprehensive index would reveal a much steeper downward trajectory.

2.3 Identifying Analytical Deficits

Global aggregations of conservation data are routinely utilized in international policy summaries, such as those published by the United Nations. However, independent literature frequently neglects the localized variance hidden within those global figures. Standard academic presentations often default to plotting a single descending global line graph. This project attempts to rectify that analytical deficit by segmenting the international dataset to expose regional disparities, investigating the expanding lower bounds of the global distribution, and pinpointing the distinct geopolitical actors driving the aggregate decline.

3 Methodology

3.1 Data Procurement and Formatting

Empirical observations for this study rely upon numerical datasets curated by BirdLife International and the International Union for Conservation of Nature, which were subsequently structured by the Our World in Data repository. The statistical window spans from 1993 to 2024, encompassing the conservation status indices for 190 nations, broader regional coalitions, and the aggregate global environment.

The selected metric functions on a strict numerical gradient from 0.0 to 1.0. A maximum score of 1.0 dictates that all evaluated biological groups within a specific territory require no immediate conservation intervention. A minimum score of 0.0 signifies absolute local extinction for the monitored groups. Any negative shift in the numerical value directly translates to an elevated systemic threat level.

3.2 Computational Processing

To generate original insights beyond standardized institutional reports, the dataset was processed using the Python programming environment. The Pandas library facilitated statistical restructuring, while the Seaborn and Plotly libraries were deployed for visual synthesis. The computational workflow was divided into four primary stages:

1. **Longitudinal Risk Mapping:** A structural pivot matrix was created to isolate the thirty nations exhibiting the most severe biological degradation in 2024. Their historical performance was then mapped chronologically to visualize the physical spread of ecological vulnerability.

2. **Statistical Distribution Tracking:** A violin plot mechanism was implemented at five-year intervals to observe morphological changes in the total statistical distribution, specifically monitoring the density and spread of all recorded nations.

3. **Macro-Regional Inequality:** The original 1993 baseline scores were plotted against the total absolute numerical decline by 2024 across established United Nations regional divisions to detect spatial disparities in habitat destruction.

4. **Predictive Modeling:** The data was filtered to isolate the absolute highest and lowest performing territories. Following this, a second-degree polynomial regression formula was applied to the aggregate global dataset to extrapolate the current trajectory forward to the year 2050.

4 Results

4.1 Systemic Spread of Ecological Endangerment

The temporal heatmap provides a stark representation of accumulating biological risk over thirty years. Rather than diluting the severity through a global mean, Figure 1 isolates the subset of nations facing the most immediate threat of ecological failure.

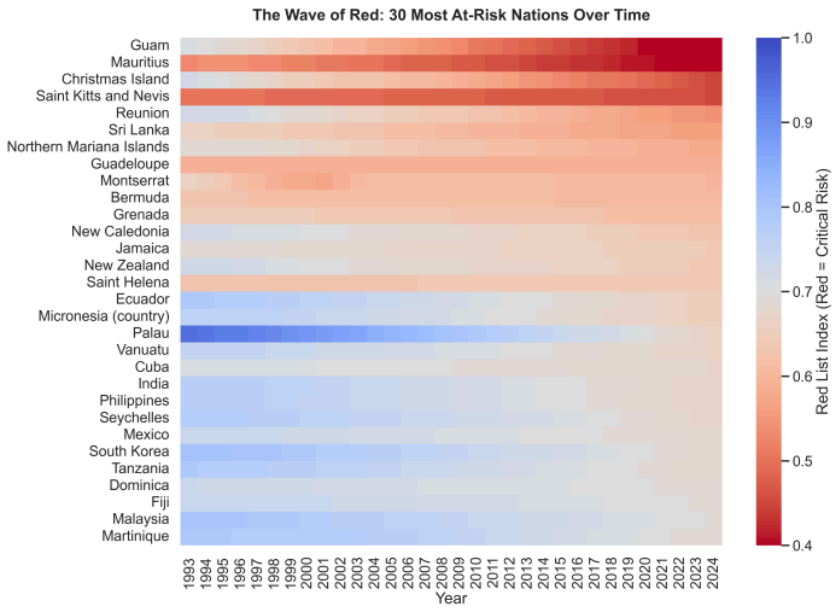

Figure 1: The Wave of Red: 30 Most At-Risk Nations Over Time.

The visual gradient shift from neutral tones to severe red highlights a compounding deterioration. Territories positioned at the base of the y-axis entered the 1990s in already precarious conditions and have subsequently plunged into critical emergency status. The spatial data indicates that these highly vulnerable zones are almost exclusively insular marine territories.

4.2 Polarization of Global Vulnerability

Figure 2 illustrates the true statistical dispersion of extinction risk across all available nations. This specific visualization uncovers a profound structural shift in global biodiversity that standard line graphs completely obscure.

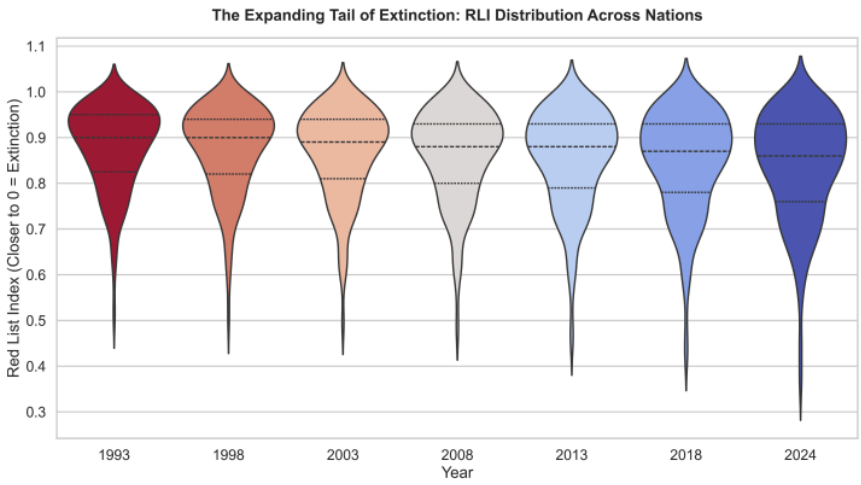

Figure 2: The Expanding Tail of Extinction: RLI Distribution Across Nations.

During the initial observation year of 1993, the global distribution was heavily clustered at the upper echelon of the index, suggesting general biological stability. As the timeline advances toward 2024, the central median remains relatively stable, but the lower extremity of the distribution elongates aggressively. This geometric shift confirms that biological decline is not uniform; instead, a specific and growing cohort of countries is experiencing rapid, localized habitat collapse that drags the bottom bounds of the index downward.

4.3 Geographical Disparities in Biological Loss

To pinpoint the locations of this rapidly declining cohort, the data was grouped by macro-regions. Figure 3 contrasts a region's initial biological integrity against the total magnitude of its subsequent deterioration.

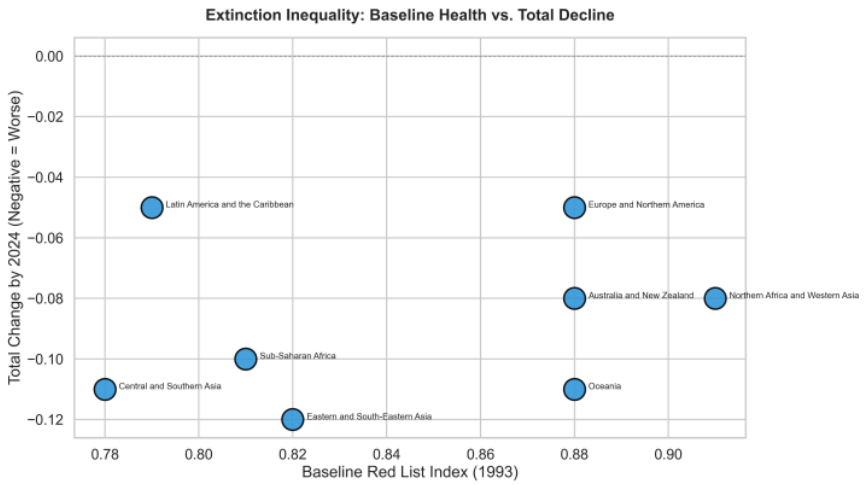

Figure 3: Extinction Inequality: Baseline Health vs. Total Decline.

The scatterplot illustrates a clear phenomenon of unequal ecological burden. Geographies that originally possessed the most robust and undisturbed biological networks, particularly Oceania alongside Eastern and South-Eastern Asia, have registered the most severe absolute declines on the planet. By contrast, heavily industrialized regions in the Northern Hemisphere demonstrate minimal numerical movement over the same three-decade period.

4.4 Extreme Performers and Policy Impact

By isolating the absolute maximum and minimum data points at the national level, we can observe the tangible results of local environmental management. Figure 4 juxtaposes the five most rapidly degrading territories against the five most improved zones.

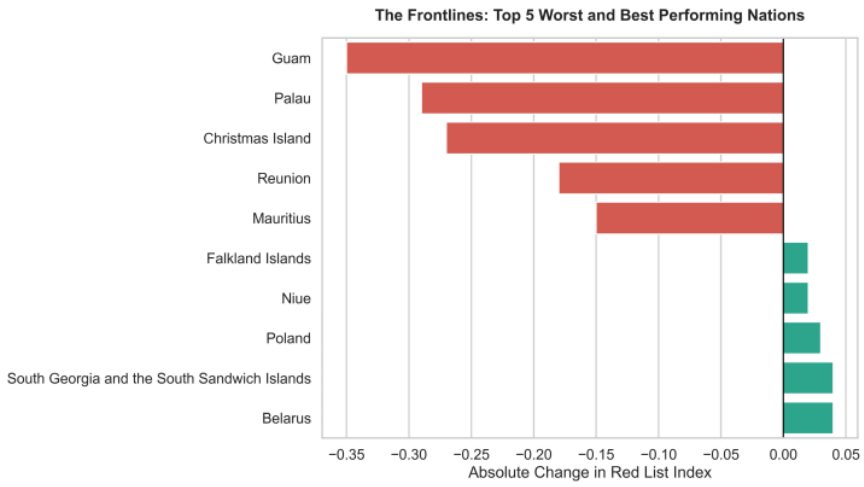

Figure 4: The Frontlines: Top 5 Worst and Best Performing Nations.

The negative spectrum is heavily populated by oceanic islands, reinforcing the systemic fragility of isolated landmasses. However, the positive spectrum provides crucial empirical evidence that biological degradation is not a strict inevitability. The upward numerical shifts in these specific territories prove that flora and fauna can transition out of endangered status and stabilize.

4.5 Mathematical Extrapolation to 2050

The concluding analytical step applied predictive mathematics to the global trajectory. Utilizing a polynomial regression model, the historical data was extended to forecast future global health up to the mid-century mark.

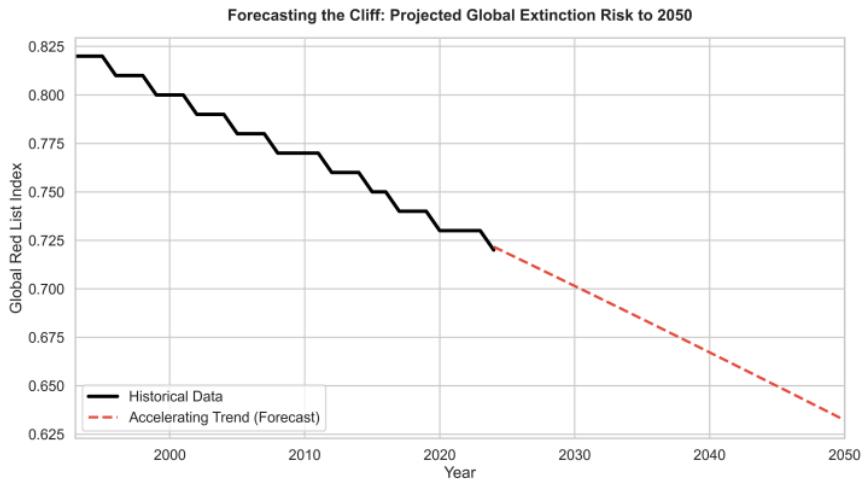

Figure 5: Forecasting the Cliff: Projected Global Extinction Risk to 2050.

Figure 5 reveals an unyielding negative progression. Because the historical deterioration exhibits compounding characteristics rather than a simple linear drop, the predictive curve steepens significantly as it approaches 2050. This mathematical outcome suggests that global biological networks will encounter critical failure points much earlier than traditional conservative estimates project.

5 Discussion

5.1 The Intrinsic Fragility of Insular Ecosystems

The recurring prominence of island territories in the highest risk categories underscores a fundamental principle of evolutionary biology. Geographies such as Palau, Mauritius, and Guam consistently populate the absolute bottom of the global health matrix. Because the biological networks on these islands developed in strict geographical isolation over vast epochs, the native organisms never acquired the necessary defensive adaptations to repel aggressive foreign competitors.

When international shipping and aviation networks accidentally introduced non-native predators to these environments, the ecological consequences were immediate and severe. Historical precedents, such as the post-war arrival of predatory tree snakes in the Pacific islands, demonstrate how quickly an evolutionary vacuum can be exploited by foreign organisms, resulting in the rapid decimation of native avian populations. The numerical data in this study directly quantifies these localized tragedies, confirming that biological invasions remain the primary mechanism of extinction in closed ecosystems.

5.2 Industrial Agriculture and Spatial Inequality

The analysis of regional disparities exposes a deeply imbalanced global dynamic. The most violent biological contractions are currently occurring within tropical latitudes. Supplementary documentation from international monitoring agencies indicates that the drastic drops observed in South-Eastern Asia and Latin America are heavily correlated with unprecedented transformations of physical landscapes.

Highly complex, primeval forest structures are being systematically eradicated to facilitate the expansion of monoculture farming operations. The aggressive cultivation of commercial crops like rubber, soy, and oil palm is liquidating crucial habitats at an industrial scale. This creates a deeply unequal geopolitical reality. Industrialized nations in the global north maintain a stable biological index largely because their primary deforestation occurred centuries prior to the commencement of modern tracking. Currently, these same industrialized centers serve as the primary consumers of tropical agricultural commodities, effectively shifting the ecological cost of their consumption onto developing nations.

5.3 Empirical Evidence for Conservation Efficacy

Despite the overwhelmingly negative trajectory of the broader dataset, the presence of statistically improving nations offers a vital counter-narrative. The territories exhibiting positive momentum in Figure 4 demonstrate that targeted administrative interventions can successfully reverse ecological damage.

For example, coordinated governmental efforts between Eastern European nations successfully stabilized the populations of large native herbivores in ancient woodland reserves, pulling them back from the edge of absolute loss. Furthermore, isolated territories in the South Atlantic have executed highly aggressive, well-funded campaigns to physically remove invasive mammals from their islands. These direct biological interventions resulted in an explosive recovery of native nesting birds. These specific data points serve as critical proof of concept; when administrative bodies deploy robust and adequately funded conservation mechanisms, the biological index exhibits measurable recovery.

5.4 Delayed Consequences of Habitat Liquidation

The polynomial curve projecting a severe decline by 2050 functions as an urgent biological warning. A fundamental reality of ecological science is that extinction metrics often operate on a significant time delay. A forest ecosystem destroyed today will not immediately reflect the total loss of its inhabitant species in the global index. Remnant populations often survive in fragmented conditions for several decades before finally collapsing due to genetic isolation or resource exhaustion, a phenomenon biologists refer to

as an extinction debt.

The predictive mathematical model implies that the delayed consequences of late twentieth-century habitat destruction are imminent. Furthermore, this regression is built solely upon historical patterns of human activity. It lacks the capacity to incorporate compounding future variables, such as rapid temperature anomalies or the sudden proliferation of novel wildlife pathogens. Consequently, the actual state of global biodiversity by mid-century may be considerably more degraded than the current mathematical forecast suggests.

6 Conclusion

The numerical data provided by the Red List Index offers irrefutable quantitative evidence that the terrestrial biosphere is undergoing a modern mass extinction. By deconstructing the generalized global averages, this investigation exposes a highly fragmented crisis. While specific northern regions exhibit artificial stability, the changing morphology of the statistical distribution confirms that a growing cohort of tropical and insular nations is experiencing catastrophic biological failure. The empirical evidence points directly to the devastating impacts of unchecked biological invasions on island environments and the massive liquidation of tropical forests for commercial agriculture.

Simultaneously, the dataset proves that localized ecological collapse is not biologically mandated. The measurable recovery of species in heavily managed conservation zones confirms that biological trajectories respond directly to human administrative willpower. However, the forecasting regression clearly indicates that the temporal window for effective mitigation is rapidly closing. Without a systematic transformation in how global economies extract resources from the natural environment, the compounding velocity of biological decline ensures that critical planetary boundaries will be breached within the current century.

References

[1] IUCN (International Union for Conservation of Nature). (2024). *The IUCN Red List of Threatened Species*. Version 2023-1. Retrieved from https://www.iucnredlist.org

[2] Ceballos, G., Ehrlich, P. R., Barnosky, A. D., García, A., Pringle, R. M., & Palmer, T. M. (2015). *Accelerated modern human-induced species losses: Entering the sixth mass extinction*. Science Advances, 1(5).

[3] Barnosky, A. D., Matzke, N., Tomiya, S., Wogan, G. O., Swartz, B., Quental, T. B., ... & Ferrer, E. A. (2011). *Has the Earth's sixth mass extinction already arrived?* Nature, 471(7336), 51-57.

[4] BirdLife International and IUCN, processed by Our World in Data. (2024). *Red List Index*. Retrieved from https://ourworldindata.org

Bhoumik_sixth_mass_extinction_quant_trends.pdf

ORIGINALITY REPORT

5%	5%	4%	3%
SIMILARITY INDEX	INTERNET SOURCES	PUBLICATIONS	STUDENT PAPERS

PRIMARY SOURCES

1	www.citizensassembly.ie Internet Source	1%
2	assets-eu.researchsquare.com Internet Source	1%
3	marine.gov.scot Internet Source	1%
4	www.degruyterbrill.com Internet Source	<1%
5	dokumen.pub Internet Source	<1%
6	Matias Laine, Helen Tregidga. "Sustainability Accounting and Accountability", Routledge, 2025 Publication	<1%
7	hal.science Internet Source	<1%
8	kluedo.ub.rptu.de Internet Source	<1%

Exclude quotes	Off	Exclude matches	Off
Exclude bibliography	Off		